Road Cost Analysis in Lubrecht Experimental Forest

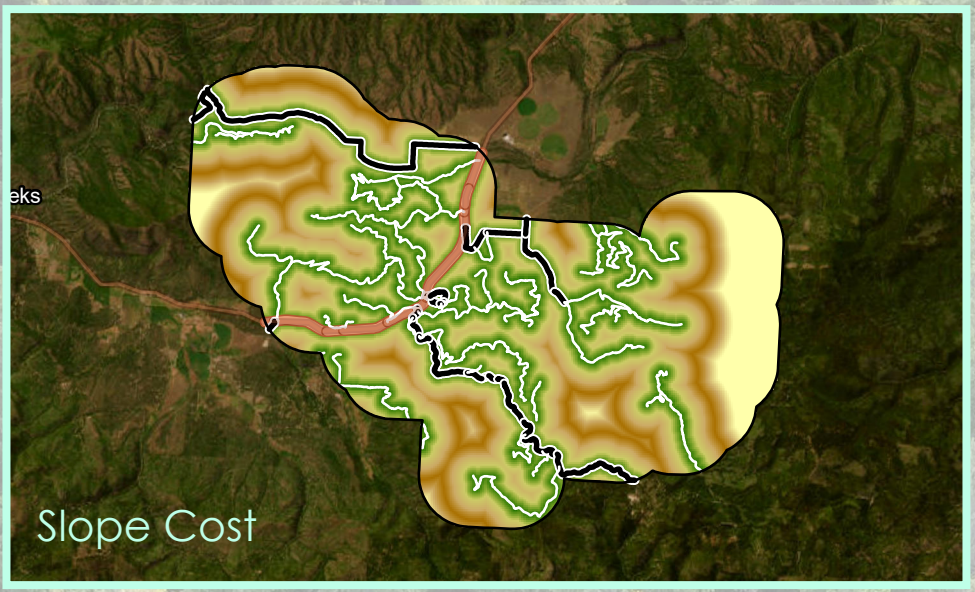

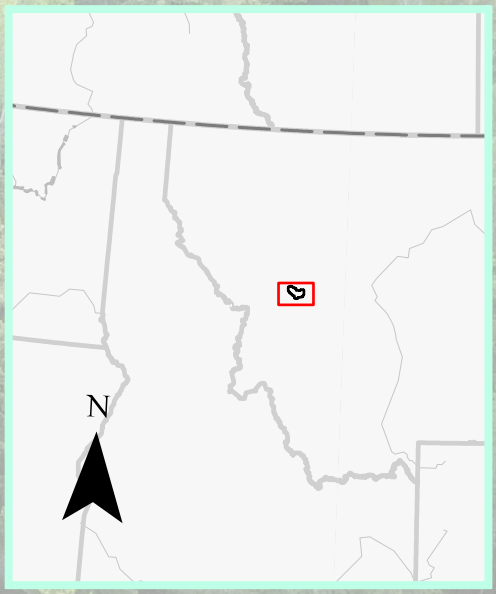

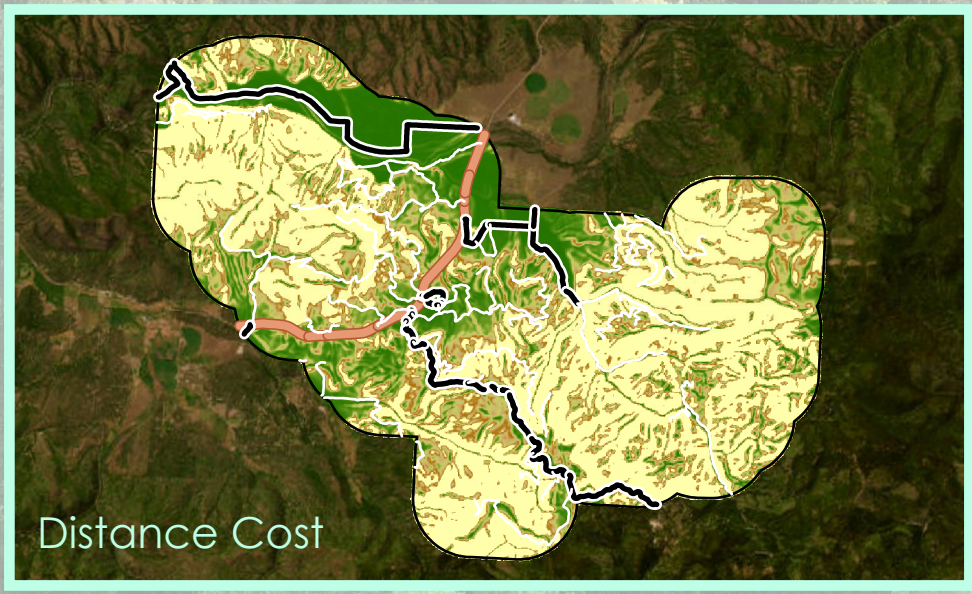

This map shows the cost of building roads in the Lubrecht Experimental forest. USGS 30m DEM was used to derive three maps showing slope cost, distance from road cost, and the final cost that masks the area where costs => $50,000.

Cartographer: Mack Moore
Date: November 11, 2025
EPSG: 6514

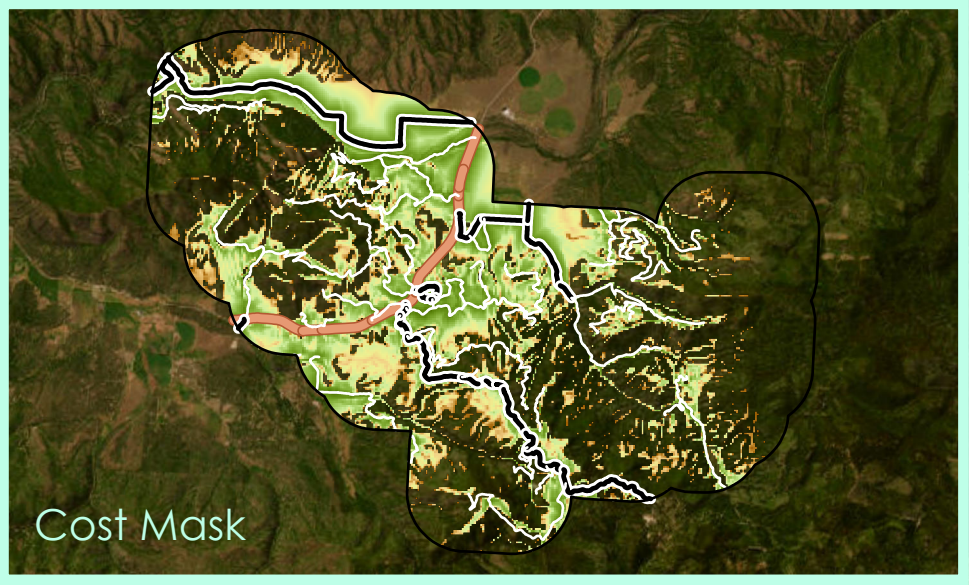

Roads

- Highway
- Primary Road
- Secondary Road
- <all other values>

Cost $

50000

0

0 2.5 5 10 Kilometers

Earthstar Geographics, Sources: Esri, TomTom, Garmin, FAO, NOAA, USGS, © OpenStreetMap contributors, and the GIS User Community